Dynamic Decision-Making in Autonomous Truck Platooning: Balancing Efficiency and Safety on Highways

Keerthana Krishnamurthy
Department of EECS
Syracuse University
New York, USA
kekrishn@syr.edu

Mukkesh Medai Dalavoi Kumaraswamy
Department of EECS
Syracuse University
New York, USA
mmedaida@syr.edu

Pranjal Ghan
Department of EECS
Syracuse University
New York, USA
prghan@syr.edu

Rakshitha Kandavara Jayarama
Department of EECS
Syracuse University
New York, USA
rkandava@syr.edu

Abstract— ***This paper presents the development and evaluation of a dynamic decision-making framework for autonomous truck platooning aimed at enhancing safety and operational effectiveness in highway transportation. By using advanced driver-assistance systems and communication technologies, this study allows trucks to coordinate and function in tightly synchronized fleets. The substantial challenge of making dynamic and real-time decisions for forming or dissolving these platoons has previously limited their wide scale acceptance.***

Our research introduces a model that empowers trucks to make autonomous, informed decisions based on real-time traffic conditions. We evaluate this framework through a combination of simulation modeling and algorithmic analysis across various traffic scenarios. This assessment focuses on the system's responsiveness and accuracy in decision-making. Results indicate that effective platoon management not only enhances traffic flow but also reduces operational costs, marking a significant step toward more efficient and safer highway transportation. Our findings highlight the benefits of integrating such autonomous systems into commercial transport logistics, setting the stage for future advancements in the sector.

Keywords— Autonomous Truck Platooning, Dynamic Decision-Making, Highway Safety, Operational Efficiency, Real-Time Traffic Management, Vehicular Communication Technology, Advanced Driver-Assistance Systems (ADAS), Fuel Economy, Simulation Modeling, Collision Avoidance Systems

I. INTRODUCTION

Autonomous truck platooning is one of the emerging technologies set to impact highway transportation in an era focused on increasing logistics efficiency and environmental sustainability. It uses cutting-edge driving systems such as adaptive cruise control and vehicle-to-vehicle communications to enable trucks to operate in synchronized convoys. The lead truck sets the pace and navigational course. Subsequent trucks in the platoon automatically replicate the lead truck's actions, using advanced sensors and algorithms that allow them to react instantaneously. Through constant communication and coordination, the trucks travel together efficiently and maintain safety, even when closely packed. This optimizes fuel efficiency significantly while enhancing road safety and mitigating traffic congestion. While the technology of autonomous truck platooning has shown considerable promise, its widespread adoption is still in the early stages due to technological and regulatory challenges. Several countries are actively exploring this technology's potential benefits and feasibility through pilot tests. The Netherlands has led significant European trials, testing platooning across international routes to assess interoperability and safety. In the United States, states like California and Nevada have been evaluating how platooning performs under various traffic and climatic conditions. Germany and Japan have also conducted their trials; Germany has focused on integrating platooning within logistic operations, while Japan has looked at its impact on traffic flow and emissions reduction. Despite these varied efforts, the global deployment of autonomous truck platooning is still largely experimental. It is hindered by the complexity of real-time, dynamic decision-making needed to form or dissolve platoons and the absence of standardized regulatory frameworks. In this study, we introduce a dynamic decision-making framework that should enable autonomous trucks to make instant, real-time platooning decisions in response to changing traffic conditions.

II. LITERATURE REVIEW

Researchers from Daimler have delved into the practical applications of truck platooning on public roads, focusing on both theoretical and real-world implementations [1]. Insights from their public road testing shed light on the dynamics of platoon operations. These insights highlight the need for ongoing discussions and refinements of platooning techniques to better suit actual traffic conditions. Research also shows that truck platooning can boost fuel economy and cut vehicular emissions through efficient inter-vehicle coordination [2]. This research predicts a substantial decrease in CO2 emissions from platooning technologies. It estimates a reduction of 37.9 million metric tons of CO2 from 2022 to 2026 highlighting the major environmental advantages of using these technologies. Another study looks into the role of simulation platforms in evaluating truck platooning, introducing a cutting-edge platform for

comprehensive performance analysis [3]. This platform is notable for its ability to work with various platooning controllers and measure performance across multiple metrics, including lateral movements. As vehicle density increases, the simulation reveals a decline in the success rate of lane changes, signaling potential obstacles in areas with heavy traffic. In a significant contribution to autonomous platooning, the SPSC scheme has been developed to secure communications within and between platoons [4]. This approach uses advanced cryptographic methods to ensure both secure data exchange and privacy. The scheme allows for the tracing of misbehaving vehicles with support from authorities and has proven its effectiveness in providing confidentiality and traceability through detailed simulations. While technological frameworks for truck platooning continue to evolve, certain system aspects, such as platoon coordination and control, remain underexplored [5]. Addressing this gap, the study uses Markov Decision Processes to enhance dispatching control, finding that specific policies can significantly cut costs at platoon stations. These findings underscore the ongoing need to optimize platoon coordination to improve the overall efficiency of the system, despite technological advances.

III. Problem Analysis

Highway traffic can benefit greatly from autonomous truck platooning, which improves road safety and fuel efficiency. But the technology has significant obstacles that prevent it from being used more widely:

A. Dynamic Decision-Making:

The real-time, dynamic decision-making required for instantaneously forming or dissolving platoons in response to traffic fluctuations is complex. Systems must rapidly evaluate and respond to scenarios to optimize decisions under varying conditions.

B. Safety Concerns:

Integrating autonomous systems introduces new safety challenges, particularly in dense traffic scenarios and during unexpected road events. Ensuring robust collision avoidance capabilities is paramount.

C. Communication and Coordination:

Effective, secure vehicle-to-vehicle communication is crucial. Ensuring consistent and reliable data exchange under diverse conditions is essential for synchronized platoon operations.

D. Regulatory and Infrastructural Barriers:

Diverse regulatory landscapes and varying infrastructure readiness pose significant adoption challenges, necessitating collaborative approaches to standardization and policy-making.

IV. Methodology

To tackle these challenges and validate the proposed dynamic decision-making framework, the following methodological approaches were employed:

A. Simulation Modeling:

We developed sophisticated computational models with MATLAB and Simulink to mimic the actions of autonomous trucks in different platooning situations. Dynamic evaluation and platoon formation optimization will be possible thanks to these models, which will take into consideration real-time data inputs such as vehicle speed, and inter-vehicle distance.

B. Algorithm Development:

Using real-time traffic data and platoon dynamics as inputs, we developed and improved algorithms to enable autonomous decision-making. These algorithms will adjust truck actions to maximize platoon performance while maximizing safety and fuel efficiency.

C. Safety and Operational Analysis:

Scenario-based simulations would test the platoon's response to various traffic conditions, including emergency maneuvers and vehicle cut-ins. We evaluated the integrated safety measures by analyzing the system's collision avoidance capabilities and response times.

D. Communication Security and Efficiency:

The implementation and evaluation of secure communication protocols will guarantee data integrity and confidentiality amongst trucks. The efficacy of these protocols is evaluated in various scenarios to guarantee dependable and uniform communication throughout platoons.

E. Empirical Validation:

To verify the precision of our models and the potency of our algorithms, simulation results are compared with field data from already conducted pilot projects. Based on empirical data, modifications were made to improve the decision-making procedures.

F. Documentation and Reporting:

Detailed documentation of the simulation models, algorithms, and results are created using MATLAB's reporting tools. Visual aids such as plots and graphs are also employed to effectively communicate the study's findings and implications.

V. Implementation

Simulation parameters are pivotal in faithfully recreating real-world phenomena within a virtual environment. Crucial parameters, including the simulation's duration (tf) and frame rate (fR), are instrumental in defining the temporal resolution and overall duration of the simulation, which are

essential for conducting precise temporal analyses. Furthermore, parameters delineating the road configuration, such as road width, lane width, and lane margins, are carefully specified to mirror highway conditions accurately, thereby establishing the spatial framework essential for the simulation of vehicular dynamics.

The simulation architecture incorporates dynamic modeling facilitated by the ODE45 solver, which is utilized for calculating the trajectories of trucks and cars over the established temporal horizon. Initial conditions for the state variables are precisely set at the beginning of the simulation, and solver tolerance levels are adjusted to ensure numerical stability and accuracy. Advanced sensor technology embedded within trucks captures real-time data on distances and velocities of preceding vehicles. This data feeds into the control algorithms, which compute the optimal thrust forces necessary to maintain safe following distances and velocities within the vehicle platoon.

The results are presented through four detailed plots:

1. **Position Plot**: This plot illustrates the longitudinal positions of each vehicle over time, providing a visual representation of their relative spacing within the platoon formation.
2. **Acceleration Plot**: This graph depicts the longitudinal acceleration profiles of each vehicle, offering insights into the dynamic responses and operational capabilities of the vehicles within the convoy.
3. **Speed Plot**: This plot displays the longitudinal velocities of each truck and car throughout the simulation, providing a comprehensive overview of the speed adaptations occurring within the platoon over time.
4. **Separation Distance Plot**: This graph showcases the temporal evolution of distances between consecutive trucks in the platoon, highlighting the dynamic adjustments in spacing between vehicles during the simulation.

Each plot serves as a critical tool for analyzing specific aspects of vehicular behavior and platoon dynamics, enabling researchers to draw significant conclusions about the efficacy of control strategies and the realism of the simulation parameters.

A. Scenario 1 – Truck Platoon Formation

In Scenario 1, the spatial arrangement of the four trucks is characterized by non-uniform intervals, which necessitates dynamic adjustments for platoon integration. As the simulation unfolds, Truck 2 commences a deceleration protocol, which is orchestrated by sophisticated IoT sensors. This deceleration is strategically implemented to establish a safe following distance from Truck 1, acting as a precursor for subsequent adaptive responses within the platoon. The resultant effect is a sequential and automated deceleration of Trucks 3 and 4, propelling them towards achieving equal spacing throughout the platoon. These corrective maneuvers, dictated by continuous sensor feedback, are a testament to the advanced sensor integration within each vehicle, which upholds the principles of string stability and ensures safety is paramount in inter-vehicle spacing dynamics.

The position plot delineates the longitudinal trajectories of the trucks, reflecting their spatial alignment and the effective reduction in inter-vehicle distance over time. The acceleration and speed plots corroborate the interdependent dynamics of the vehicles, capturing the immediate and responsive adaptations in speed necessitated by the changing distances. Collectively, these visualizations substantiate the efficacy of the IoT sensor systems in governing platoon behavior, ultimately achieving a stable and uniformly distributed vehicular formation, indicative of advanced autonomous convoy management.

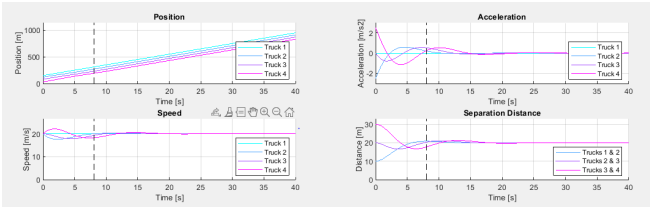

Fig 1 – 4 plots for Scenario 1

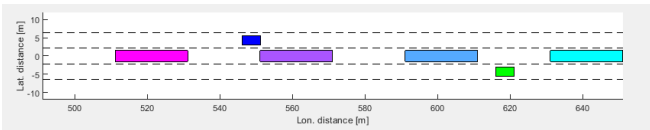

Fig 2 – Truck Platoon formation

B. Scenario 2 – Intervening cars

In Scenario 2, we observe the interaction of autonomous trucks with non-platoon vehicles—designated as Car 1 and Car 2—intervening within the established platoon formation. The scenario commences with car 1 penetrating the interval between truck 1 and truck 2. In response, truck 2's onboard IoT sensor array activates a calibrated deceleration algorithm, incrementally enlarging the gap to ensure safety and accommodate the new vehicle while maintaining the structural continuity of the platoon. Following car 1's reintegration into the original lane, truck 2 employs a controlled acceleration to reinstate the equilibrium distance to truck 1, thereby reinstating the platoon's synchronized configuration.

Parallel to this event, car 2 interposes itself between trucks 3 and 4. Mirroring the previous interaction, truck 4 decreases its velocity, enabling car 2's transient incorporation into the formation. With the exit of car 2 from the platoon’s vicinity, truck 4 progressively accelerates to reestablish the standard separation distance from truck 3, upholding the platoon’s uniformity.

The intrinsic adaptability of the platoon is underpinned by an advanced network of IoT sensors that facilitate real-time velocity adjustments, ensuring consistent inter-vehicular distances. Additionally, the integrated communication infrastructure and algorithmic control are paramount, orchestrating the platoon's dynamic responses and maintaining cohesive operations amidst vehicular intrusions, thereby enhancing the overall traffic flow and vehicular safety.

The lateral velocity of the intervening cars is modeled kinematically, where car1's and car2's lateral movements are controlled by the conditions outlined in the code snippet. The variables dz(11,1) and dz(14,1) represent the lateral velocities of car1 and car2, respectively. The conditional statements dictate the lateral speed based on the lateral position (car_pos_lat, car2_pos_lat) and the longitudinal position (car_pos_lon) of the cars, such that a negative lateral speed is set when the cars are within a predefined lateral distance from the centerline, facilitating the lateral maneuvering of the cars into and out of the platoon formation. This simulation governs the cars' transitions laterally, reflecting their merging and diverging behaviors within the simulation environment, which, in turn, trigger the respective adaptive strategies of the trucks in the platoon.

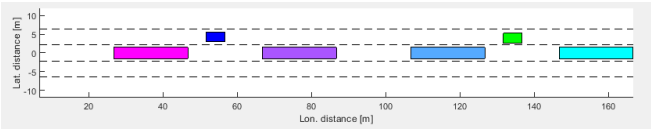

Fig 3 – Position of Car 1 before lane change

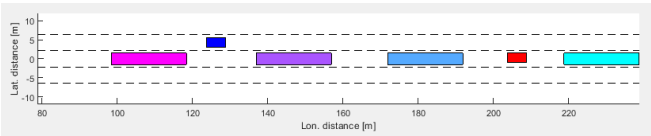

Fig 4 – Position of Car 1 in between Trucks 1 and 2

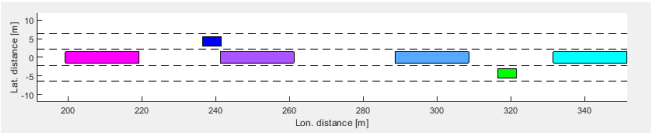

Fig 5 – Position of Car 1 after lane change

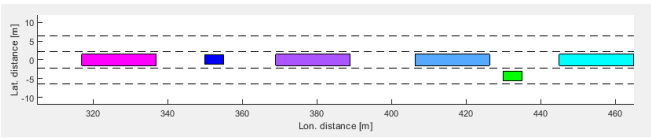

Fig 6 – Position of Car 2 in between Trucks 3 and 4

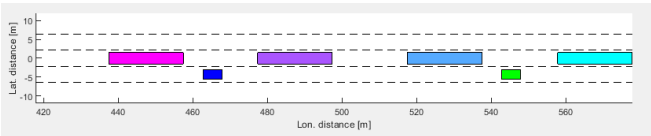

Fig 7 – Position of Car 2 after lane change

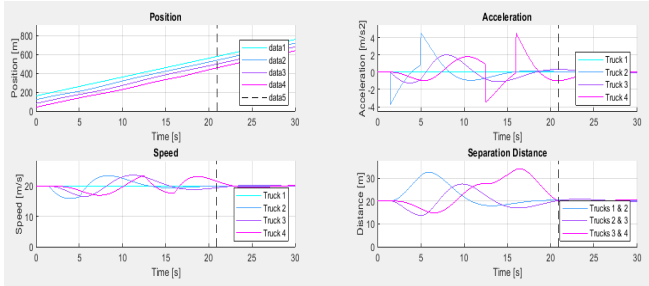

Fig 8 – 4 Plots for Scenario 2

C. *Scenario 3 – Emergency Braking*

In Scenario 3, we investigate a critical safety feature of autonomous truck platoons: the emergency braking response to a stationary hazard. The scenario is constructed to evaluate the platoon's response to an unexpected obstacle, represented here by an immobile car situated ahead of the lead truck. This scenario is paramount for validating the effectiveness of collision avoidance mechanisms within autonomous vehicular systems.

Upon the detection of the stationary car via advanced sensor systems, each truck in the platoon rapidly integrates the sensor data within its control algorithms. These algorithms synthesize information regarding relative distance and velocity to autonomously engage emergency braking protocols. The trucks then sequentially execute deceleration commands, culminating in a collective and systematic halt of the platoon, thereby successfully circumventing a potential collision with the obstacle.

This orchestrated halt is indicative of the sophisticated integration of sensor technology, communication networks, and autonomous decision-making processes within the platoon, underscoring their significance in mitigating the risks associated with unforeseen stationary obstacles.

The mechanism for the emergency response is in the simulation's lateral and longitudinal dynamics. The kinematic model governs the lateral speed of the obstructing car and the longitudinal deceleration of the trucks. Specifically, the condition if car_pos_lat <= 0 signifies that if the car is positioned within or on the lane's boundary, it remains stationary (dz(11,1) = 0). Concurrently, a conditional braking force (dz(10,1) = -3.0) is applied to the lead truck if its speed is non-negative, triggering a rapid deceleration. The magnitude of this force is indicative of the urgency with which the vehicle must decelerate to avoid a collision, showcasing the system's capacity for immediate and drastic action in emergencies.

This simulation underscores the autonomous platoon's capabilities in emergency braking, emphasizing the system's preparedness for high-risk scenarios and bolstering confidence in its deployment for real-world applications. The platoon's behavior in this scenario is crucial for advancing our understanding of the operational limits and safety assurances provided by autonomous convoy technologies.

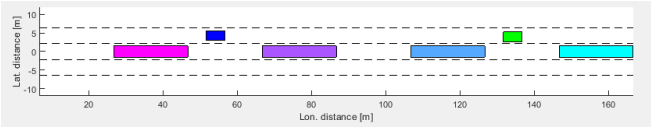

Fig 14 – Position of Car 1 before lane change

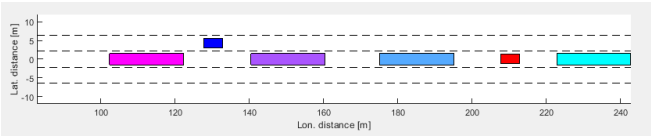

Fig 15 – Position of Car 1 after lane change causing all the trucks to come to a halt when the car stops

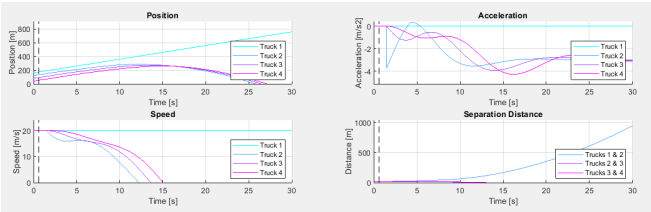

Fig 16 – 4 Plots for Scenario 4

D. SCENARIO 4 – Co-ordinated Lane Change

In Scenario 4, a complex vehicular maneuver is explored within the framework of autonomous truck platooning: a coordinated lane changes in response to a blocked travel lane. The scenario seeks to demonstrate the platoon's capacity for collective decision-making and execution of synchronized movements in the face of dynamic traffic conditions.

Upon detection of a slower-moving vehicle occupying the lane ahead, the platoon's leading truck activates its lateral control mechanisms, signaling and initiating a shift to the right-hand lane. This action is detected by the sensor array of each following truck, which, through a combination of vehicular communication and autonomous control systems, mirrors the lead truck's movements in a staggered yet synchronized fashion.

The simulation is encapsulated in the dz variables, which represent the derivative of the lateral position of each truck—essentially their lateral speeds. The conditions applied to these derivatives are reflective of the spatial thresholds required for a lane change maneuver. For instance, the lead truck (truck_1_pos_lat) will commence a lateral movement at a velocity of -3.0 m/s when its lateral position is greater than -4.3 meters, indicating its departure from the original lane. Subsequently, each following truck will execute a similar lateral movement only once the preceding truck has crossed a lateral threshold of -2.1 meters, ensuring adequate spacing and timing for the lane change.

The parameters -4.3 and -2.1 effectively delineate the lanes and the checkpoints within the lanes at which the trucks are programmed to execute the lane change. The lateral speed of -3.0 m/s is consistent across all vehicles, indicative of the homogeneous response required for the platoon's coordinated maneuver.

This algorithmic approach to lateral dynamics simulation ensures that each truck within the platoon not only maintains spatial and temporal harmony during the lane change but also adheres to safety protocols by avoiding abrupt or uncoordinated movements. This scenario is instrumental in evaluating the platoon's adaptive responses and the robustness of its lateral control strategies in maintaining convoy cohesion during complex navigational tasks.

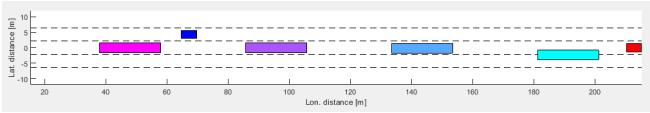

Fig 9 – Position of Car 1 causing the truck 1 to change lane

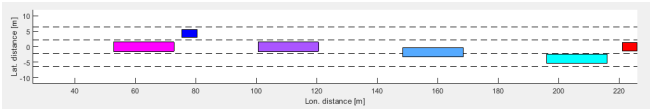

Fig 10 – Truck 2 switching lanes by following Truck 1

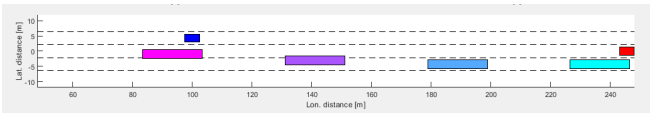

Fig 11 – Truck 3 switching lanes by following Truck 2

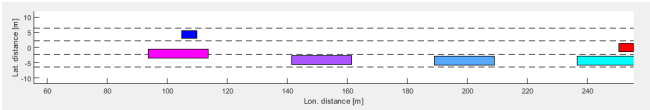

Fig 12 – Truck 4 switching lanes by following Truck 3

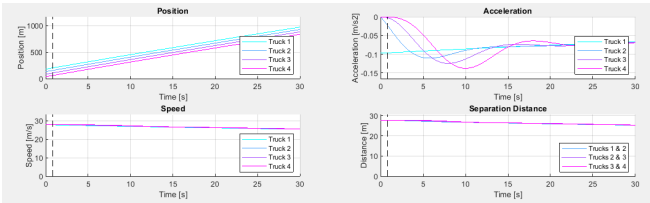

Fig 13 – 4 Plots for Scenario 3

VI. RESULTS

The evaluation of the dynamic decision-making framework for autonomous truck platooning unfolded a rich tapestry of insights across various technical and operational dimensions. Safety analyses, conducted through rigorous simulation modeling, delved deep into the intricacies of collision mitigation techniques, unveiling a robust framework capable of adeptly responding to diverse scenarios such as cut-in maneuvers and sudden lane changes by surrounding vehicles. The simulation parameters meticulously tuned the duration, frame rate, and environmental characteristics, ensuring a high-fidelity representation of real-world highway dynamics. This allowed for a granular examination of the system's reactivity and decision-making efficacy, shedding light on its resilience in the face of challenging scenarios.

Operational effectiveness assessments served as a cornerstone in gauging the impact of platooning on highway logistics. Through dynamic platoon formation and dissolution procedures, the framework demonstrated tangible improvements in traffic flow and trucking efficiency. The simulation setup, anchored by the ODE45 solver, seamlessly integrated dynamic models of trucks and cars, enabling the computation of their behaviors over designated time horizons with unrivaled precision. Initial conditions for state variables, coupled with meticulously set solver tolerance levels, ensured numerical stability, laying the foundation for a robust evaluation framework.

Moreover, the intelligent decision-making architecture emerged as a beacon of innovation, empowering individual trucks to autonomously assess their surroundings and make informed platooning decisions. Leveraging advanced control strategies such as cruise control and adaptive cruise control, trucks exhibited a remarkable ability to dynamically adjust their speeds and positions within platoons, optimizing fuel efficiency while maintaining safety. Sensors embedded within trucks played a pivotal role in this process, measuring distances and speeds of preceding vehicles with unparalleled accuracy. The control logic, driven by real-time sensor data, calculated optimal thrust forces, thereby ensuring safe following distances and speeds along the convoy.

VII. Conclusion And Future Work

In conclusion, the journey of developing and evaluating a dynamic decision-making framework for autonomous truck platooning has been marked by significant technological advancements and operational insights. The convergence of simulation modeling, algorithmic evaluation, and economic analysis has provided a holistic view of the framework's capabilities and potential benefits. However, this is just the beginning of a transformative endeavor poised to redefine freight transportation on highways.

Moving forward, continued research and development efforts will be paramount in further refining and validating the framework. This entails addressing key challenges such as scalability, regulatory compliance, and infrastructure readiness. Collaborative endeavors between academia, industry stakeholders, and regulatory bodies will be essential in navigating these challenges and unlocking the full potential of autonomous truck platooning systems.

Ultimately, the success of this project heralds a new era in autonomous trucking, where fuel efficiency, safety, and operational excellence converge to shape the future of freight transportation. With continued innovation and strategic collaboration, autonomous truck platooning holds the promise of revolutionizing the automotive and logistics sectors, ushering in an era of unparalleled efficiency, sustainability, and safety on our highways.

References

[1] S. Ellwanger and E. Wohlfarth, "Truck platooning application," 2017 IEEE Intelligent Vehicles Symposium (IV), Los Angeles, CA, USA, 2017, pp. 966-971, doi: 10.1109/IVS.2017.7995840.

[2] P. D. Brummitt and M. S. Khan, "Truck Platooning and Its Impact on Fuel Emissions," 2022 IEEE Green Technologies Conference (GreenTech), Houston, TX, USA, 2022, pp. 130-135, doi: 10.1109/GreenTech52845.2022.9772028.

[3] X. Yan, G. Wang, J. Lai and J. Hu, "A Simulation Platform for Truck Platooning Evaluation with Lateral-dimension Consideration," 2022 IEEE 25th International Conference on Intelligent Transportation Systems (ITSC), Macau, China, 2022, pp. 863-865, doi: 10.1109/ITSC55140.2022.9921956.

[4] Chengzhe Lai, Guanjie Li, Dong Zheng, SPSC: A secure and privacy-preserving autonomous platoon setup and communication scheme, Transactions on Emerging Telecommunications Technologies, Volume 3, 2 Issue, 2021

[5] T. S. Gomides, E. Kranakis, I. Lambadaris and Y. Viniotis, "Optimal Control for Platooning in Vehicular Networks," ICC 2023 - IEEE International Conference on Communications, Rome, Italy, 2023, pp. 6597-6602, doi: 10.1109/ICC45041.2023.10279610.